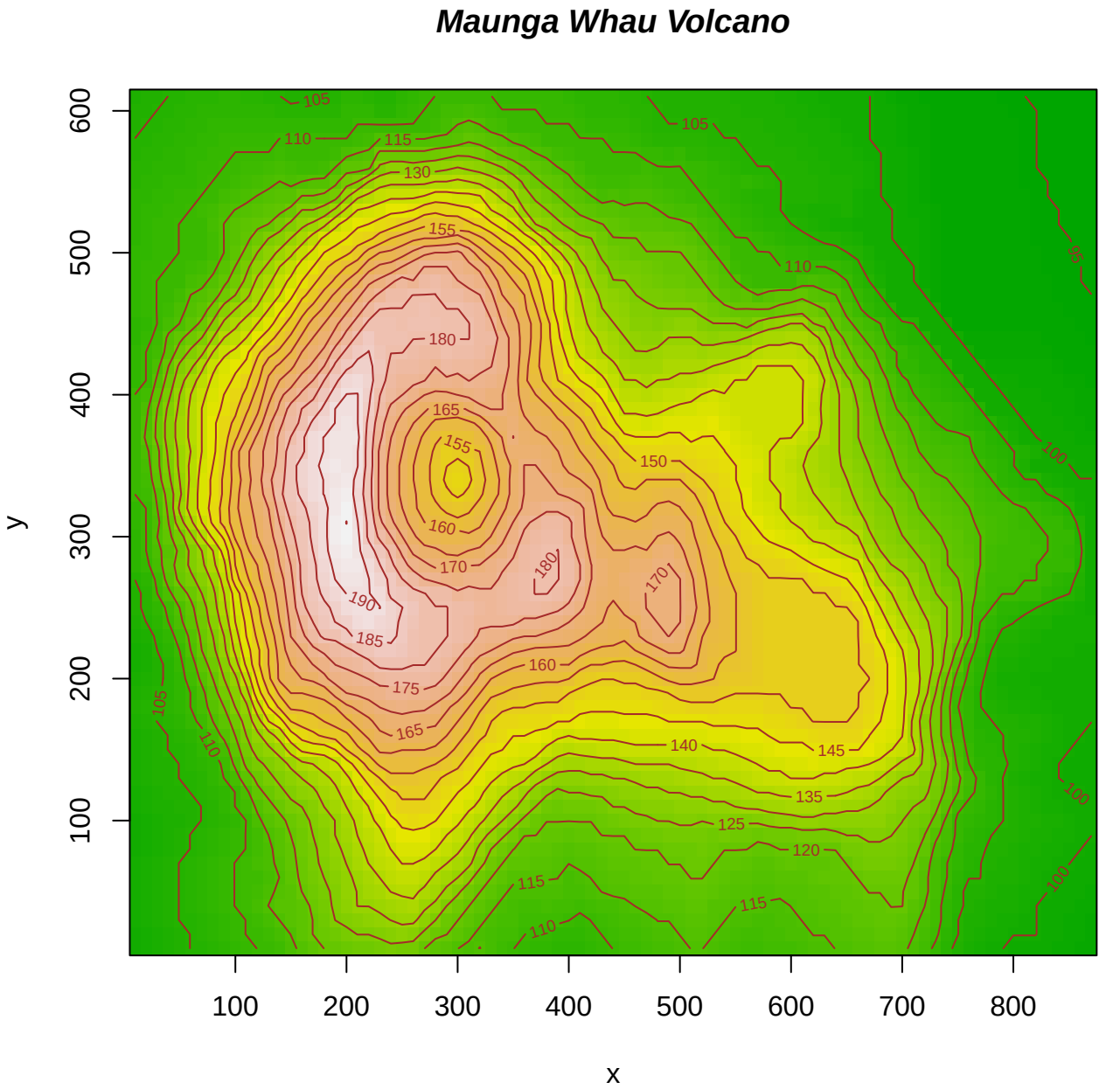
Maunga Whau Volcano
y
x
100
200
300
400
500
600
700
800
105
110
115
130
155
180
165
160
170
190
185
175
150
140
145
135
125
120
95
100
col=terrain.colors(100)

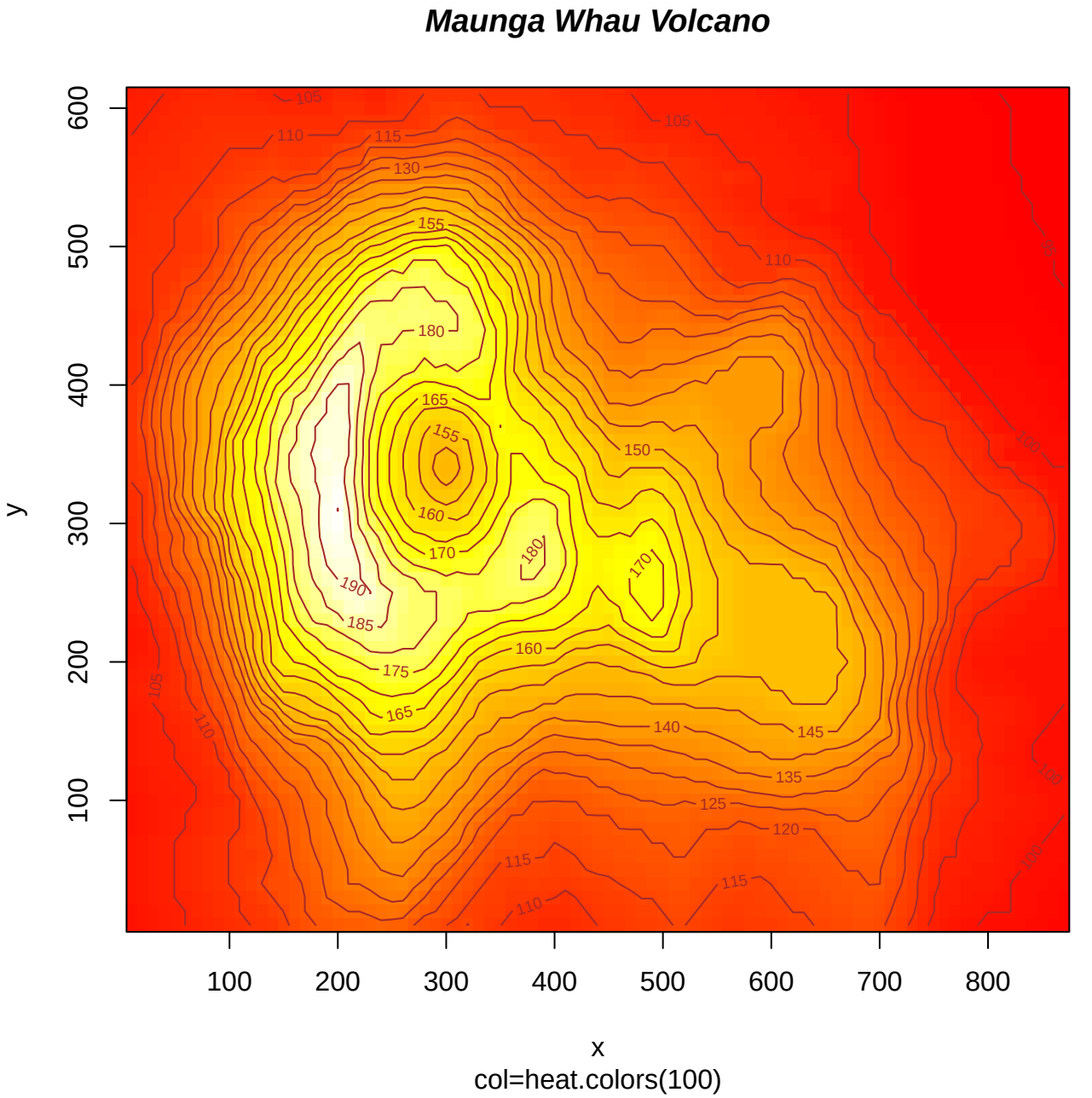
Maunga Whau Volcano
y
x
col=heat.colors(100)
100
200
300
400
500
600
700
800
105
110
115
120
125
130
135
140
145
150
155
160
165
170
175
180
185
190

Maunga Whau Volcano
col=gray(100:200/200)

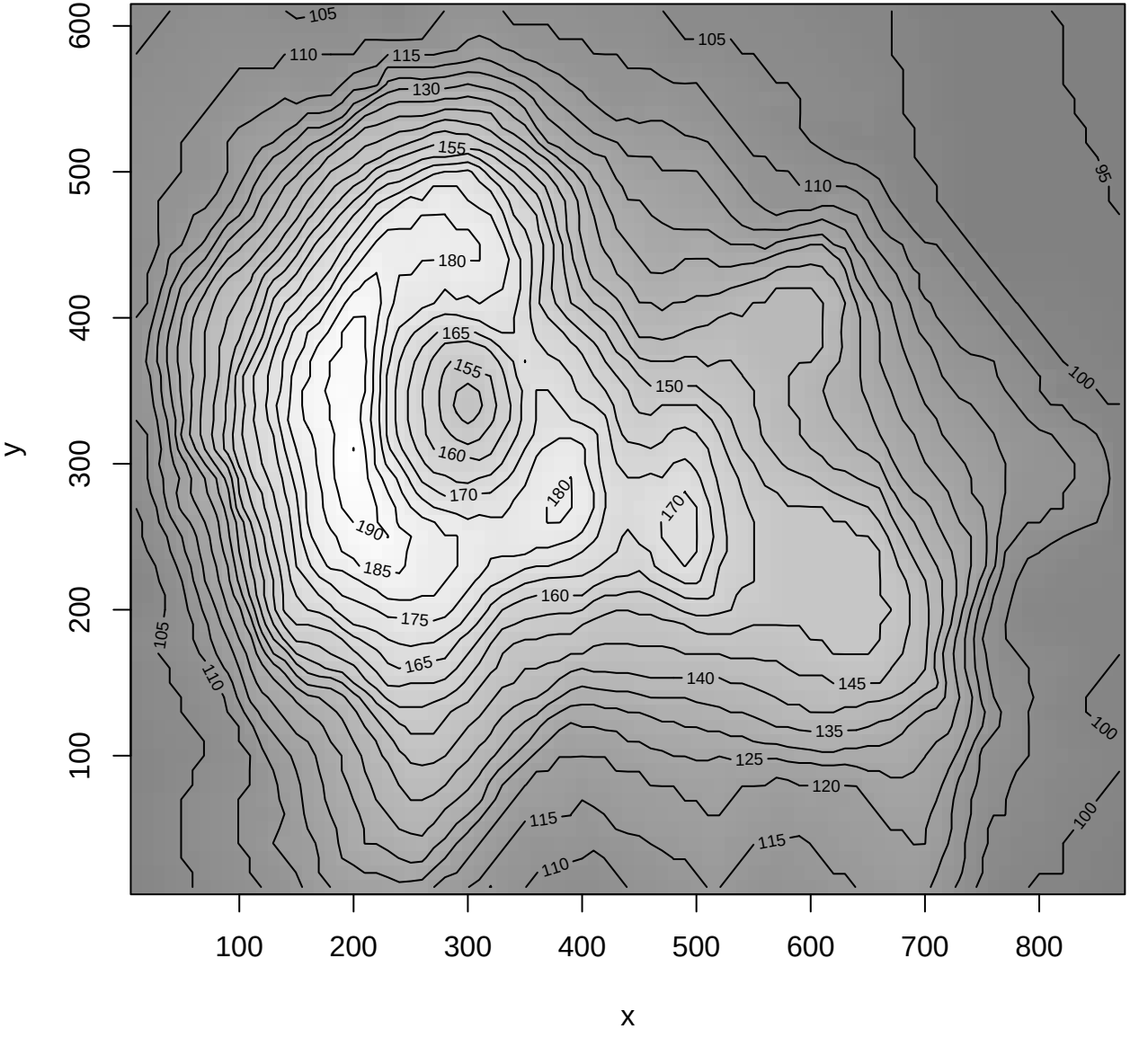

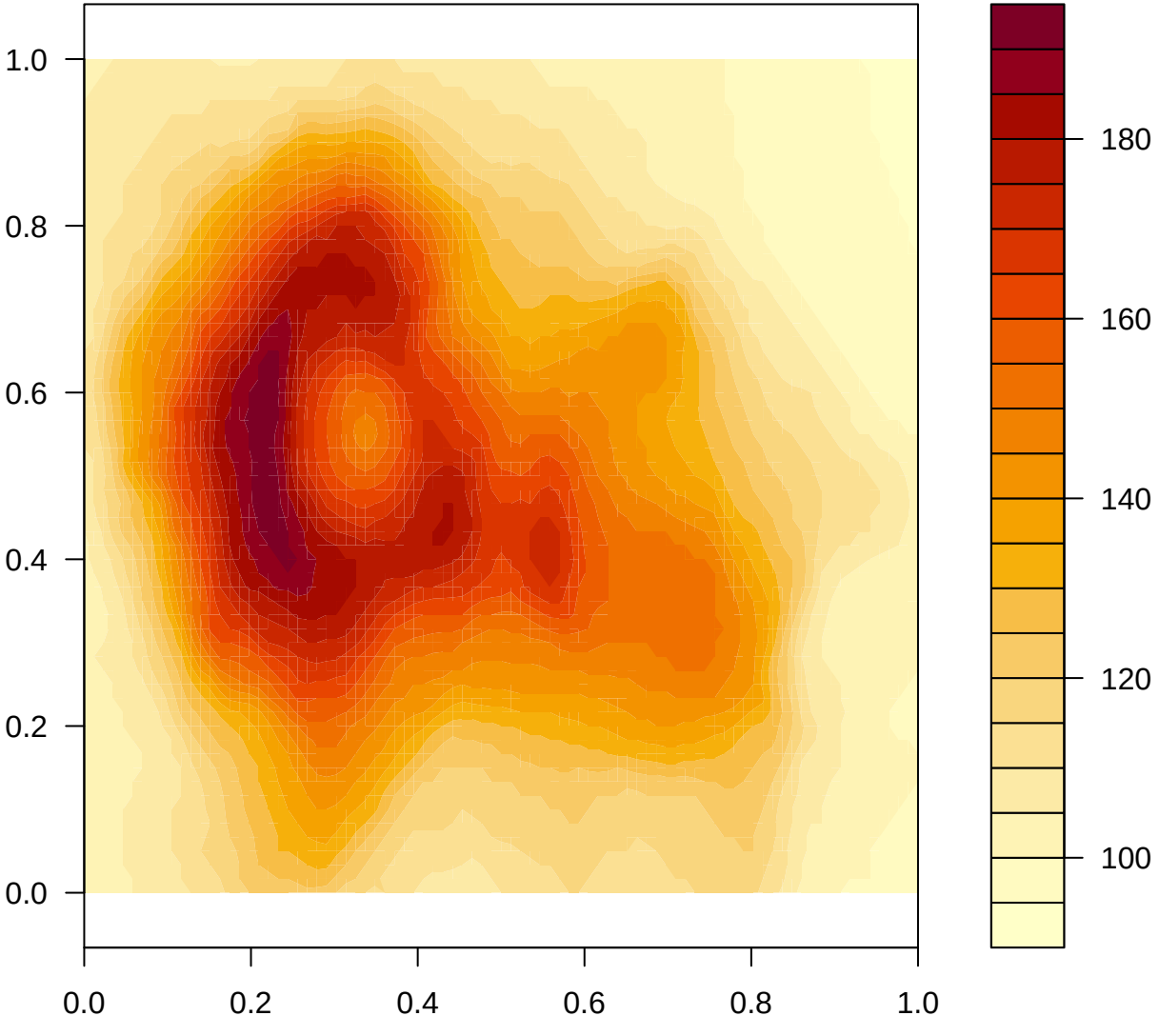
1.0
0.8
0.6
0.4
0.2
0.0
0.0
0.2
0.4
0.6
0.8
1.0
180
160
140
120
100

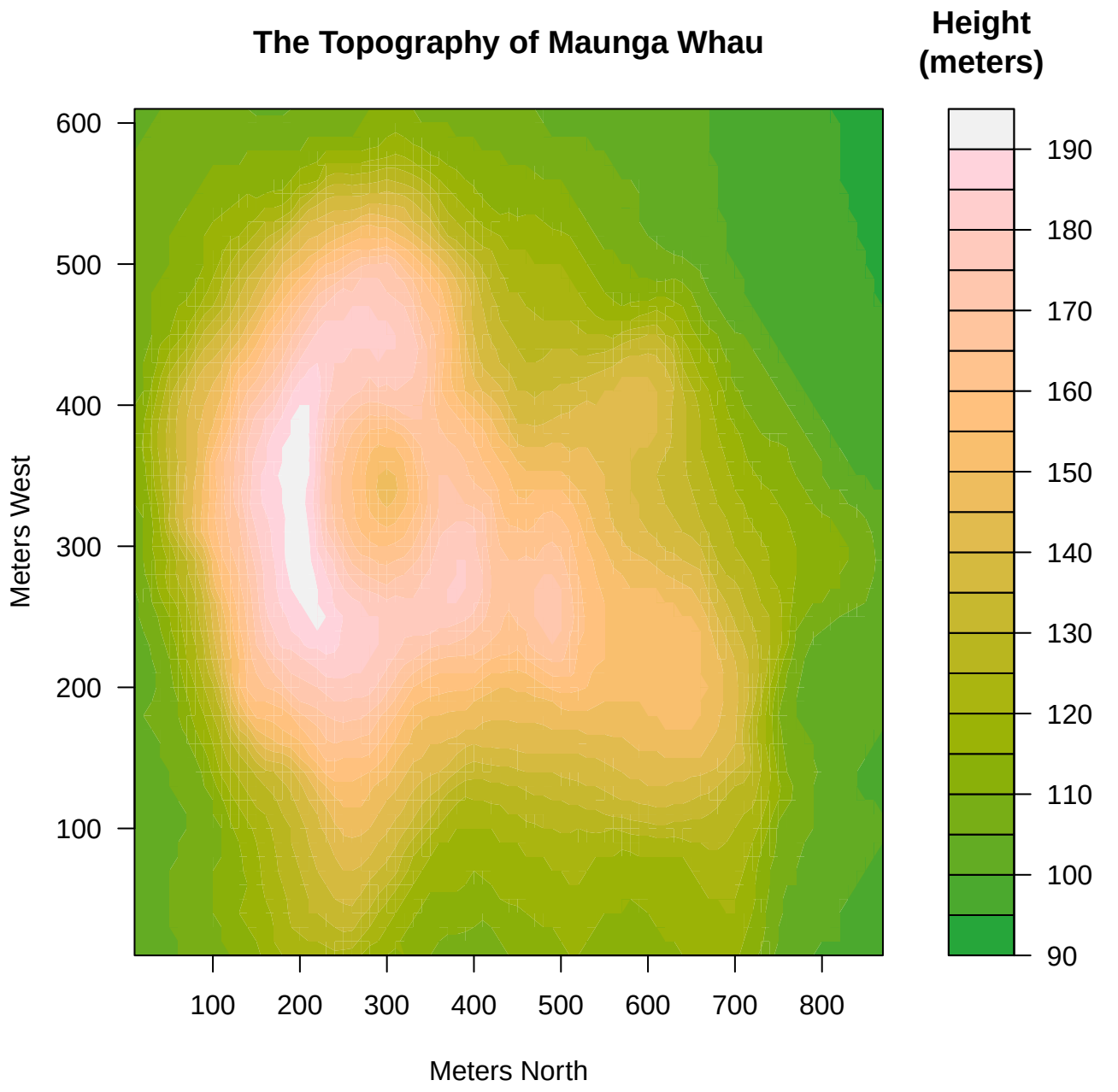
The Topography of Maunga Whau
Height (meters)
190
180
170
160
150
140
130
120
110
100
90
600
500
400
300
200
100
Meters West
100
200
300
400
500
600
700
800
Meters North
filled.contour(.) from R version 4.5.2 (2025−10−31)

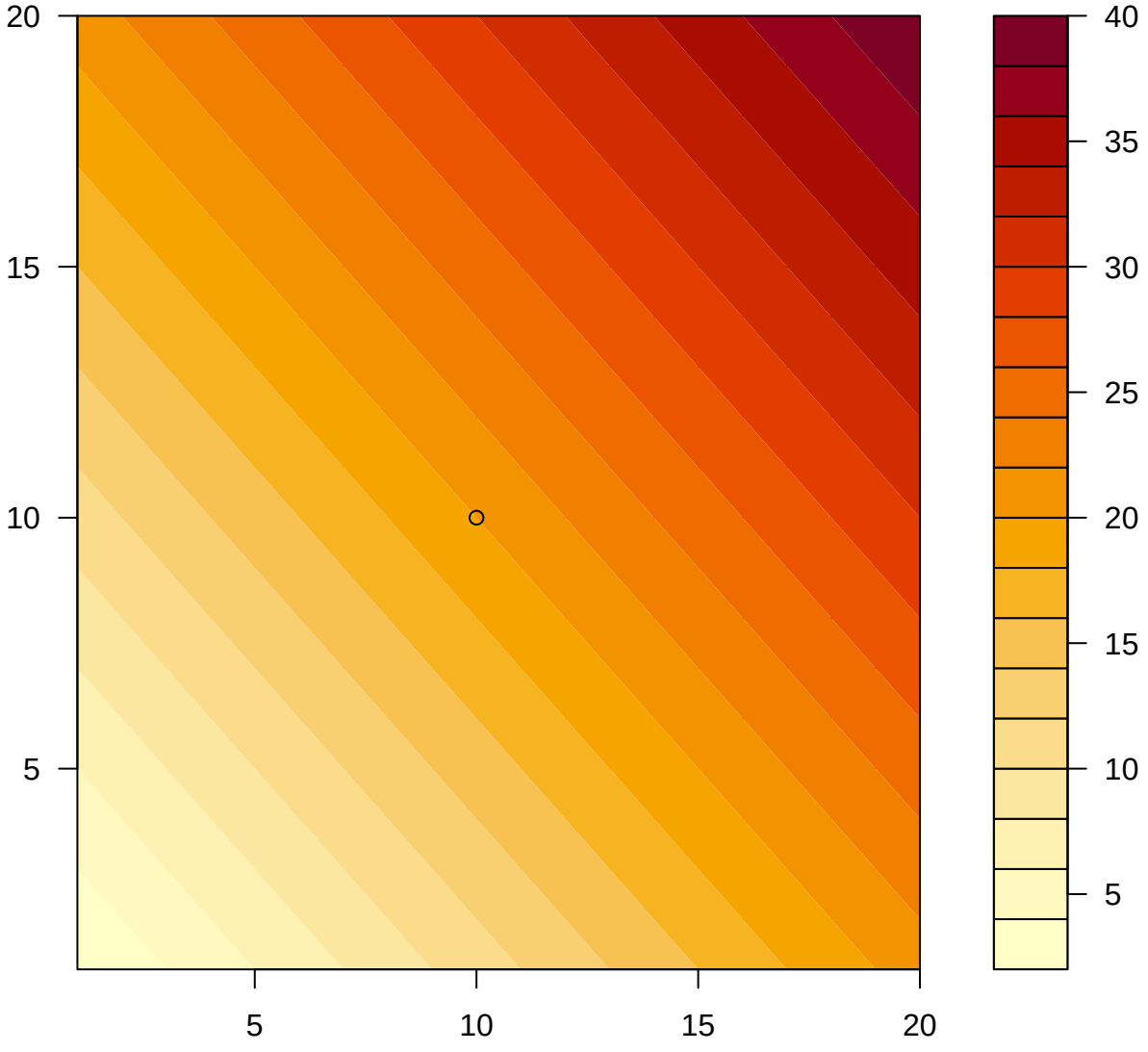
20
15
10
5
5
10
15
20
40
35
30
25
20
15
10
5

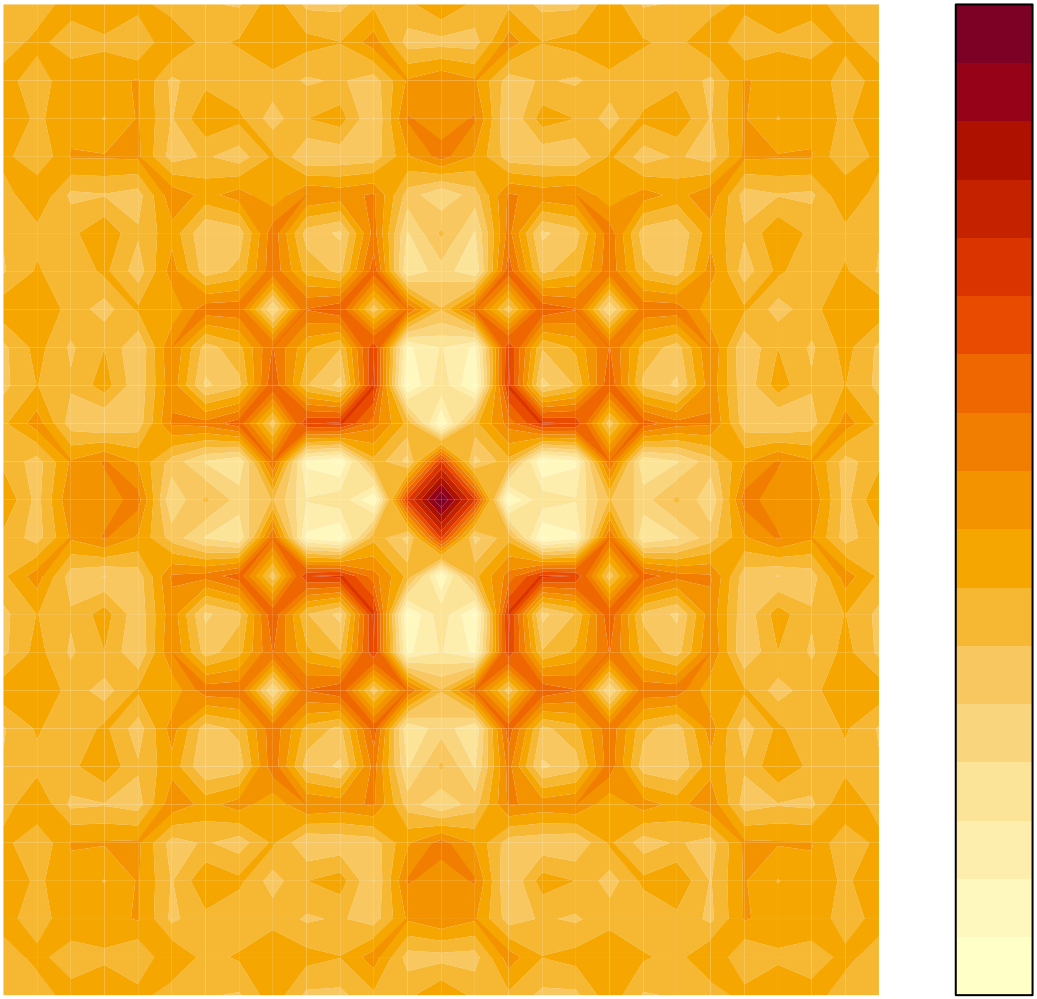

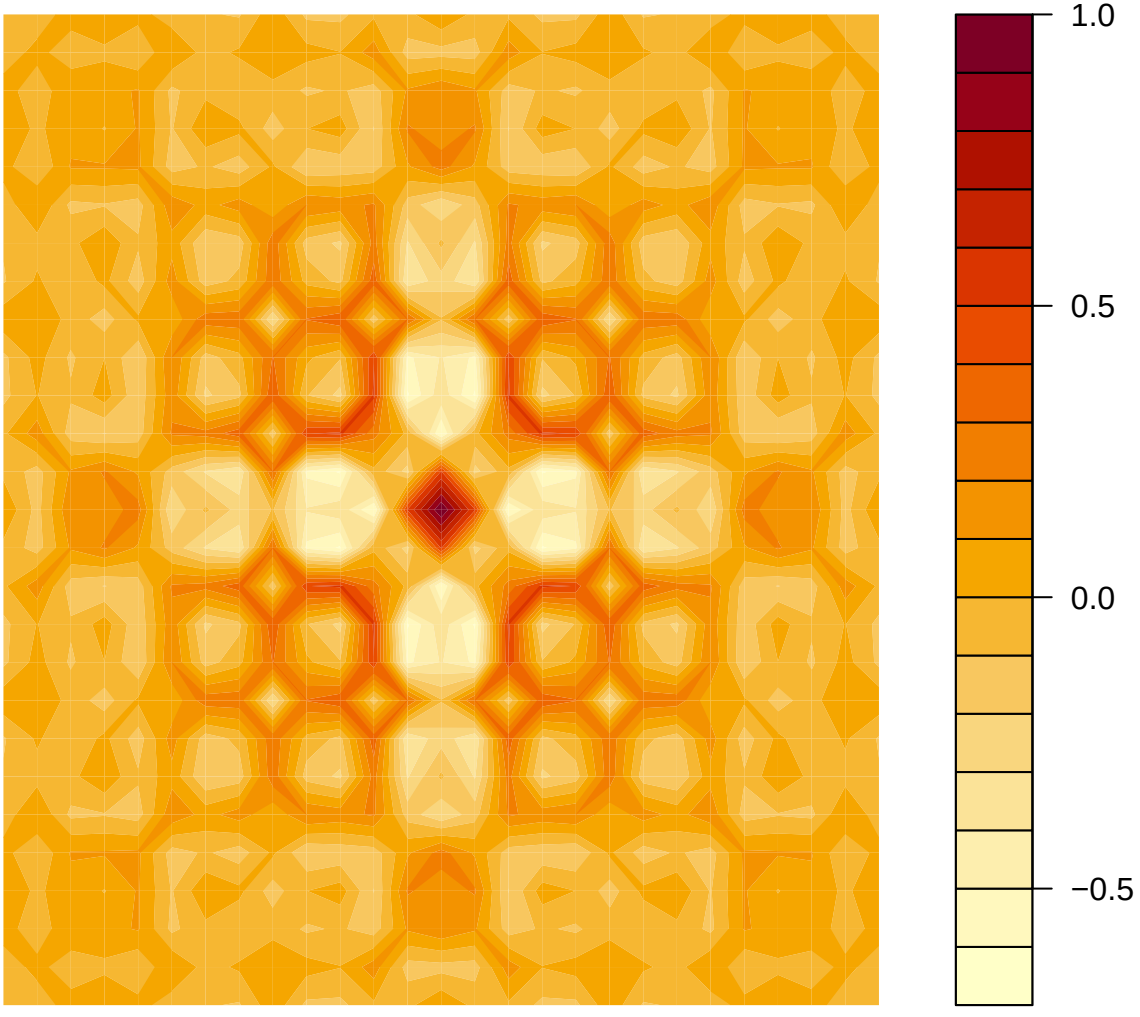
1.0
0.5
0.0
−0.5